PAGE 1 — EXECUTIVE SUMMARY & KEY FINDINGS

Ameritech | Ameritech Consulting Group conducted an independent analysis of the City of Austin's Sidewalk Infrastructure. *This is not a final audit.* This report evaluates **175,609 active sidewalk segments** across all 10 council districts against Americans with Disabilities Act (ADA) 2010 Standards, Public Right-of-Way Accessibility Guidelines (PROWAG), and City of Austin Transportation Design Standards. Data was sourced from the Austin Open Data Portal (sidewalk inventory, 311 service requests, traffic signals), Capital Metro transit data, Austin ISD school locations, and U.S. Census ACS 2022 demographics.

175,609	21.5%	66.5%	26,784
Segments Assessed	Fully Compliant	Non-Compliant or Partial	Pending Assessment

Compliance Classification

Fully Compliant	31,970	21.5%	Meets all ADA requirements — no deficiencies
Partially Compliant	75,361	50.6%	Minor deficiencies — generally functional
Non-Compliant	41,494	27.9%	Multiple deficiencies or missing critical features
Pending Assessment	26,784	—	Not yet rated under current assessment cycle

Primary Deficiency Categories

Missing / Failed Curb Ramps	167	16.7%	PROWAG R304 — 1:12 max slope, 36" min width	CRITICAL
Curb Ramps Requiring Repair	93	—	Surface defects >¼", settlement, displacement	HIGH
Missing Tactile Dome Warnings	644	64.4%	ADA §406.13 — truncated yellow domes required	HIGH
Signals Without Ped. Interval	1,007	75.7%	MUTCD §4E — leading pedestrian interval	HIGH
Hazardous Surface Conditions	41,494	23.1%	ADA §402 — firm, stable, slip-resistant surface	HIGH
Improper Cross-slope / Grade	40,899	23.3%	ADA — max 2% cross-slope, 8.33% running slope	MEDIUM

PAGE 2 — COMPLIANCE STATUS & DEFICIENCY ANALYSIS

Of the **175,609 active sidewalk segments** assessed citywide, only **21.5%** fully satisfy ADA requirements. An additional **50.6%** are partially compliant with minor deficiencies, while **27.9%** exhibit significant violations requiring remediation. 26,784 segments remain pending assessment under the current inspection cycle.

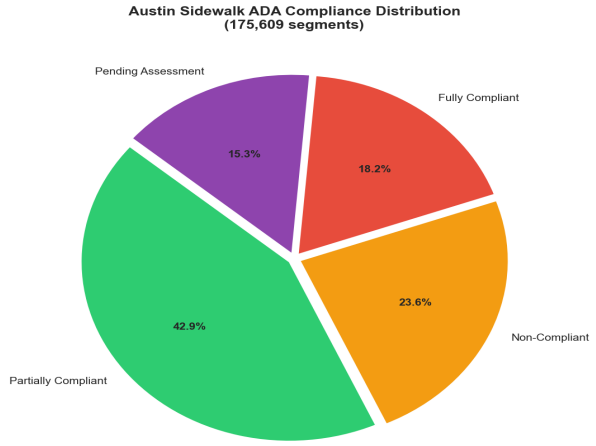

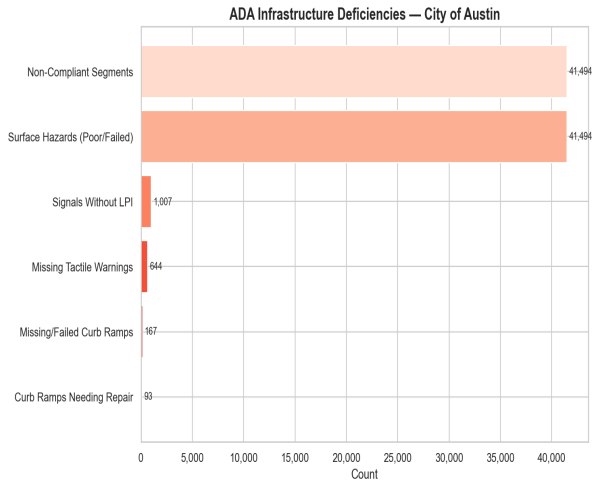

Figure 1 (left): ADA compliance distribution across all assessed segments. Figure 2 (right): Top infrastructure deficiency categories by segment count.

Surface Condition Grade Distribution

All sidewalk segments are rated on a 1–5 condition scale based on field assessment data collected from January 2020 through December 2024. The grade distribution below illustrates the proportion of infrastructure at each condition level:

A — Excellent	No defects; recently maintained or installed	21.5%	None — monitor annually
B — Good	Minor wear; fully functional	21.2%	Preventive maintenance
C — Fair	Visible deterioration; maintenance recommended	29.4%	Schedule repair within 2 years
D — Poor	Significant cracking, displacement, or hazards	23.1%	Repair within 12 months
F — Failed	Unsafe; immediate trip/mobility hazard	4.8%	Immediate replacement required

Signal Accessibility

The City operates **1,331 signalized intersections**. Of these, only **24.3% (324)** are equipped with Leading Pedestrian Intervals (LPI) — the federally recommended audible/tactile countdown signal system. The remaining **75.7% (1,007 signals)** lack adequate pedestrian accessibility features, creating barriers for blind and visually impaired pedestrians. Additionally, **64.4%** of assessed curb ramp locations are missing ADA-required truncated dome tactile warning surfaces.

PAGE 3 — GEOGRAPHIC EQUITY & DISTRICT BREAKDOWN

ADA compliance rates vary significantly across Austin's 10 council districts, revealing a **17.6-percentage-point gap** between the highest- and lowest-performing districts. This disparity is not random: districts with higher concentrations of lower-income residents and communities of color consistently show lower compliance rates — a pattern that reflects decades of unequal infrastructure investment and maintenance.

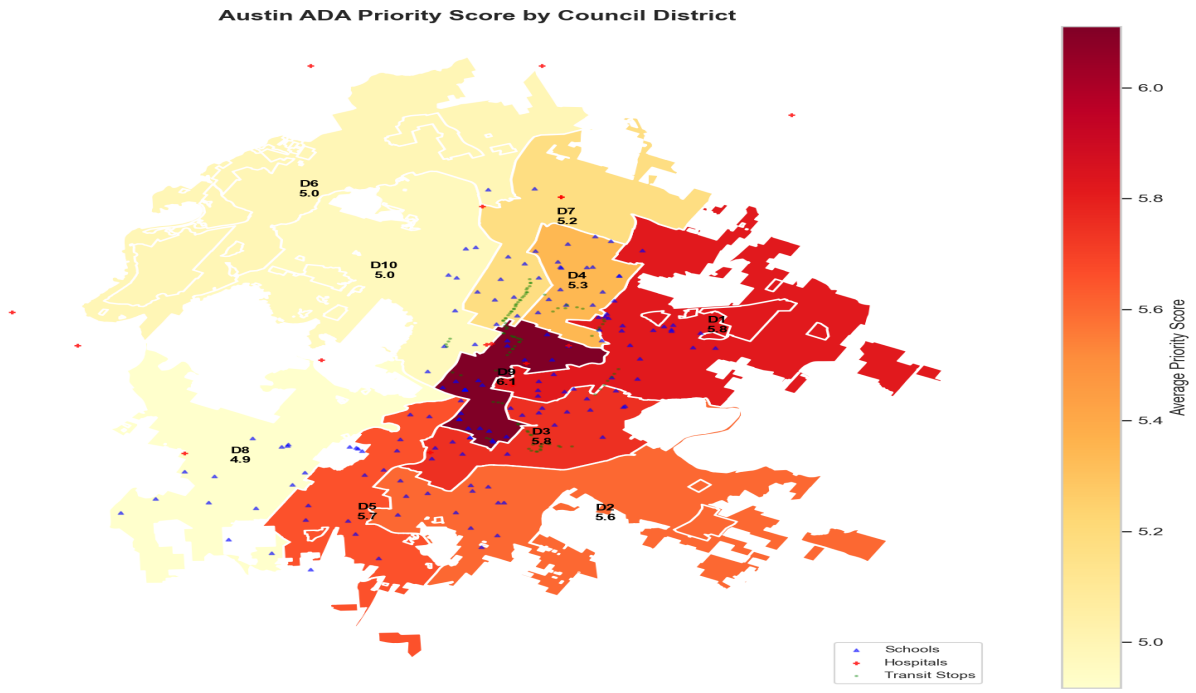

Figure 3: Austin council district map shaded by average ADA priority score. Higher scores (darker) indicate greater remediation urgency. School (▲), hospital (+), and transit stop (●) overlays show proximity to critical facilities.

District Compliance Snapshot

1	North Austin / Rundberg	30.8%	2,340	5,409
2	Dove Springs / SE Austin	27.3%	1,980	4,794
3	East Austin / Cesar Chavez	26.1%	2,105	4,583
4	Riverside / South Congress	24.8%	1,876	4,355
5	Oak Hill / South Lamar	20.8%	3,879	3,653
6	Far NW Austin / Avery Ranch	15.6%	0	2,740
7	North Loop / Hyde Park	16.7%	11	2,933
8	Barton Hills / South Oak Hill	14.1%	0	2,476
9	Downtown / Bouldin Creek	22.4%	1,820	3,934
10	West Austin / Tarrytown	13.2%	6	2,318

Key: Compliance rate = % of rated segments fully meeting ADA standards. City average: 21.5%. Districts shown in red fall below 20% compliance.

PAGE 4 — POPULATION IMPACT & PRIORITY FRAMEWORK

ADA accessibility failures disproportionately affect Austin's most vulnerable residents. The city's **133,532 residents aged 65+** (10.4% of Travis County population), **172,733 residents with disabilities** (13.4%), and approximately **75,500 students** using Austin ISD's 151 campuses depend daily on compliant pedestrian infrastructure. Currently, **5,130 sidewalk segments adjacent to schools** and **3,958 segments near transit stops** are non-compliant.

Seniors (65+)	133,532	Curb ramps, level surfaces, signal timing	5,130
Residents w/ Disabilities	172,733	All barrier types; ramp access most critical	—
Students (AISD)	~75,500 daily	School-zone crossings, signal safety	5,130
Transit Riders	~159,000 daily	Bus stop access, signal accessibility	3,958
General Public	1,289,054	Surface conditions, ramp availability	41,494

Priority Tier Framework

Each of the 175,609 assessed segments was scored on a 0–40 priority scale using four weighted dimensions: **Risk** (40%) — safety hazard level, usage frequency, and vulnerability of served population; **Equity** (30%) — proximity to schools, transit, healthcare, and historically underserved communities; **Feasibility** (20%) — cost efficiency and implementation complexity; **Impact** (10%) — number of residents served and demonstration value.

Tier 1 — Critical	35–40	—	0–3 months	Schools, transit hubs, healthcare facilities
Tier 2 — High	28–34	20,260	3–12 months	High-traffic commercial, near-transit
Tier 3 — Medium	20–27	139,001	1–2 years	Residential neighborhoods, secondary streets
Tier 4 — Low	10–19	16,348	Monitor	Minor deficiencies; include in maintenance cycles

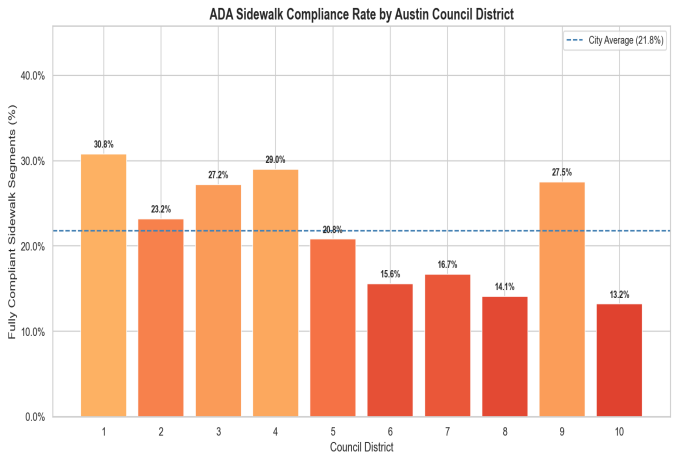

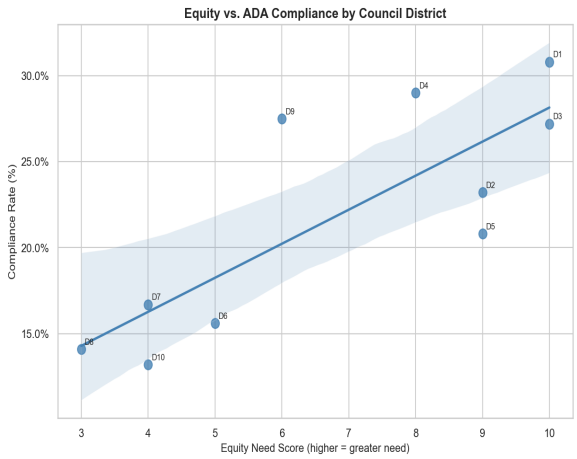

Figure 4 (left): Compliance rate by district (city average dashed). Figure 5 (right): Equity need vs. compliance rate — districts with greater need show lower compliance.

***Ameritech | Ameritech Consulting Group** conducted an independent analysis of the City of Austin's Sidewalk Infrastructure. This is not a final audit. For strategic recommendations and the 5-year financial summary, see the companion document: **Ameritech Recommendations**. Prepared by Ameritech Consulting Group · tiffany@a-techconsulting.com · April 2026. Data sources: City of Austin Open Data Portal (datasets vchz-d9ng, p53x-x73x, xwdj-i9he), ArcGIS FeatureServer (TRANSPORTATION_curb_ramps, AISD_Schools, EXTERNAL_cmta_stops, Council_Districts), U.S. Census Bureau ACS 5-Year Estimates 2022 (Travis County, TX).*